Hill – land that is **higher than the land around it**, with a rounded shape

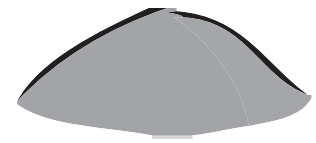

Plain – very **flat dry land**, usually with few trees

Mountain – a **very high** and often **rocky** landmass

Valley – a **long low area of land** that is surrounded by hills or mountains

Island – land that is completely **surrounded by water**

Peninsula – a **narrow** piece of land that is surrounded by **water on three sides**

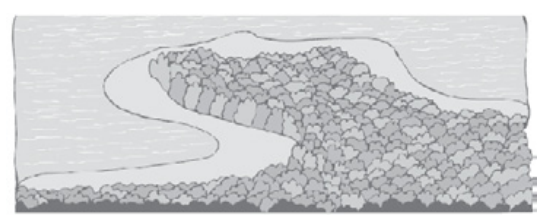

Land Forms

Read the information and trace the dotted words.

Hill — land that is higher than the land around it, with a rounded shape

Plain — very flat dry land, usually with few trees

Mountain — a very high and often rocky landmass

Valley — a long low area of land that is surrounded by hills or mountains

Island — land that is completely surrounded by water

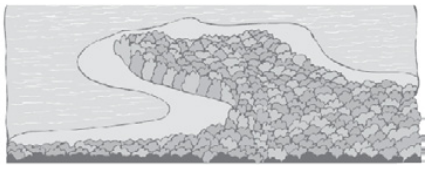

Peninsula — a narrow piece of land that is surrounded by water on three sides

Land Forms

Match each description to the picture and trace the dotted words.

I am land that is very low and between a hill or mountain.

hill valley island

I am very high and usually rocky.

island peninsula mountain

I am very flat with few trees.

plain hill peninsula

I am round on top and higher than the land around me.



valley island hill

I am completely surrounded by water.

mountain valley island



I am narrow and have water on three sides.

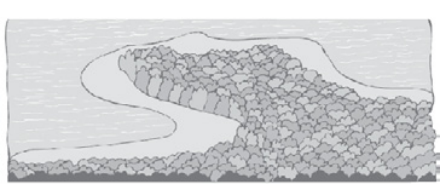

peninsula mountain hill

Land Forms

Circle the correct answer.

I am land that is very low and between a hill or mountain.

hill (valley) island

I am very high and usually rocky.

island peninsula (mountain)

I am very flat with few trees.

(plain) hill peninsula



I am round on top and higher than the land around me.



valley island (hill)

I am completely surrounded by water.

mountain valley (island)



I am narrow and have water on three sides.

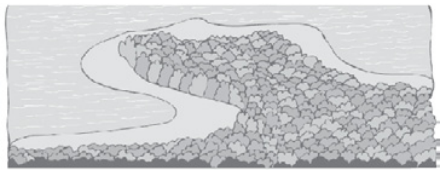

(peninsula) mountain hill

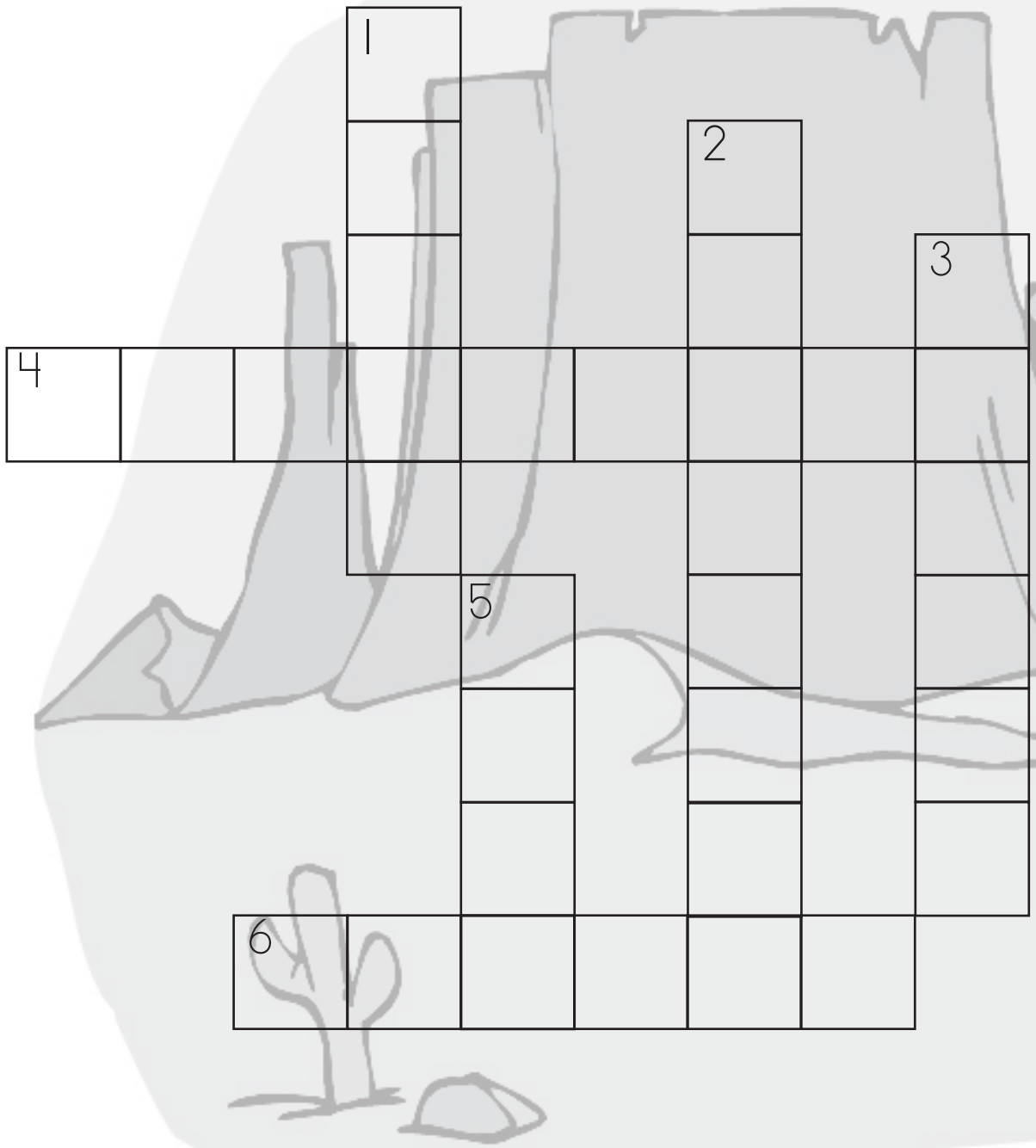

Word Bank

peninsula
hill
plain
mountain
rocky
island
valley
landform
map
flat
low
water
land

ACROSS
4 A narrow piece of land that is surrounded by water on three sides
6 Land that is completely surrounded by water
DOWN
1 Very flat dry land, usually with few trees
2 Very high and often rocky land mass
3 A long low area of land that is surrounded by hills or mountains
5 Land that is higher than the land around it, with a rounded shape

Land Forms

Complete the crossword puzzle.

Ocean — a large body of salt water that covers most of the earth; the Earth's four largest oceans are the Atlantic, Pacific, Indian, and Arctic

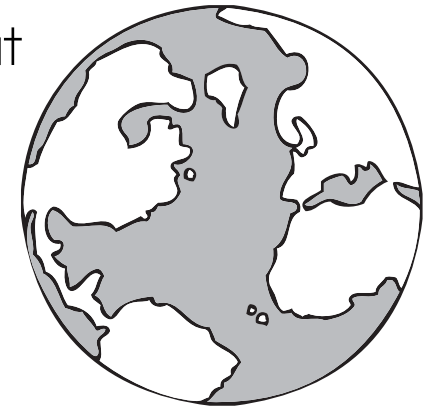

Gulf — a large inlet of ocean water that is partly surrounded by land

Lake — a large body of water surrounded by land

River — a wide stream of water that runs across the land until it reaches an ocean or lake

_____

_____ Ocean water that is partly surrounded by land.

u l g f

_____

_____ A large body of water surrounded by land.

k l a e

_____

_____ A large body of salt water that covers most of the earth.

c e o n a

_____

_____ A wide stream of water that runs across the land until it reaches an ocean or lake.

v i r r e

Waterways

Unscramble the words and fill in the blanks.

river	**gulf**
ocean	**lake**

A large inlet of ocean water that is partly surrounded by land.

A large body of salt water that covers most of the earth.

A large body of water surrounded by land.

A wide stream of water that runs across the land until it reaches an ocean or lake.

Waterways

Use the Word Bank to fill in the blanks on each boat's flag.

river	**gulf**
ocean	**lake**

gulf

A large inlet of ocean water that is partly surrounded by land.

ocean

A large body of salt water that covers most of the earth.

lake

A large body of water surrounded by land.

river

A wide stream of water that runs across the land until it reaches an ocean or lake.



Waterways

Help the scuba diver get to the underwater treasure.

A compass rose is printed on maps to show the direction of north and the other cardinal directions.

Cardinal Directions:

N - North

S - South

E - East

W - West

Compass Rose

Read the information and trace the dotted words.

Word Bank

North	**compass**	**West**
South	**rose**	**East**

N _____

W _____



E _____

S _____

A _____ _____ helps us find the right direction on a map.

Compass Rose

Use the Word Bank to fill in the blanks.



A c r helps us find the right direction on a map. The cardinal directions are _____, _____, _____, and _____.

Word Bank

North South East West compass rose

Compass Rose

Use the Word Bank to fill in the blanks.

North



West

East

South

A c_____ r_____ helps us
compass rose
find the right direction on a map.
The cardinal directions are

_____, _____, _____,
North East South

and _____.
West

Word Bank

North South East West
compass rose

Compass Rose

Answers



Compass Rose

Use the compass rose to go north to help the pirate find the treasure.

We live in North America.

North America is a continent.

A continent is the largest dry land mass on the earth.

There are seven continents on our earth.

North America

Read the information and trace the dotted words.

Canada	**North America**	**USA**	**Mexico**	**Pacific Ocean**
land mass	**Gulf of Mexico**	**seven**	**Atlanitc Ocean**	**continent**

We live in N_____ A_____.

It is a C_____.

A continent is the largest dry L_____ m_____ on the earth.

There are S_____ continents on our earth.

North America

Trace the map and fill in the missing words.

Canada	**North America**	**USA**	**Mexico**	**Pacific Ocean**
land mass	**Gulf of Mexico**	**seven**	**Atlanitc Ocean**	**continent**

We live in _____ _____ _____

Canada	**North America**	**USA**	**Mexico**	**Pacific Ocean**
land mass	**Gulf of Mexico**	**seven**	**Atlanitc Ocean**	**continent**

We live in _____ _____ _____

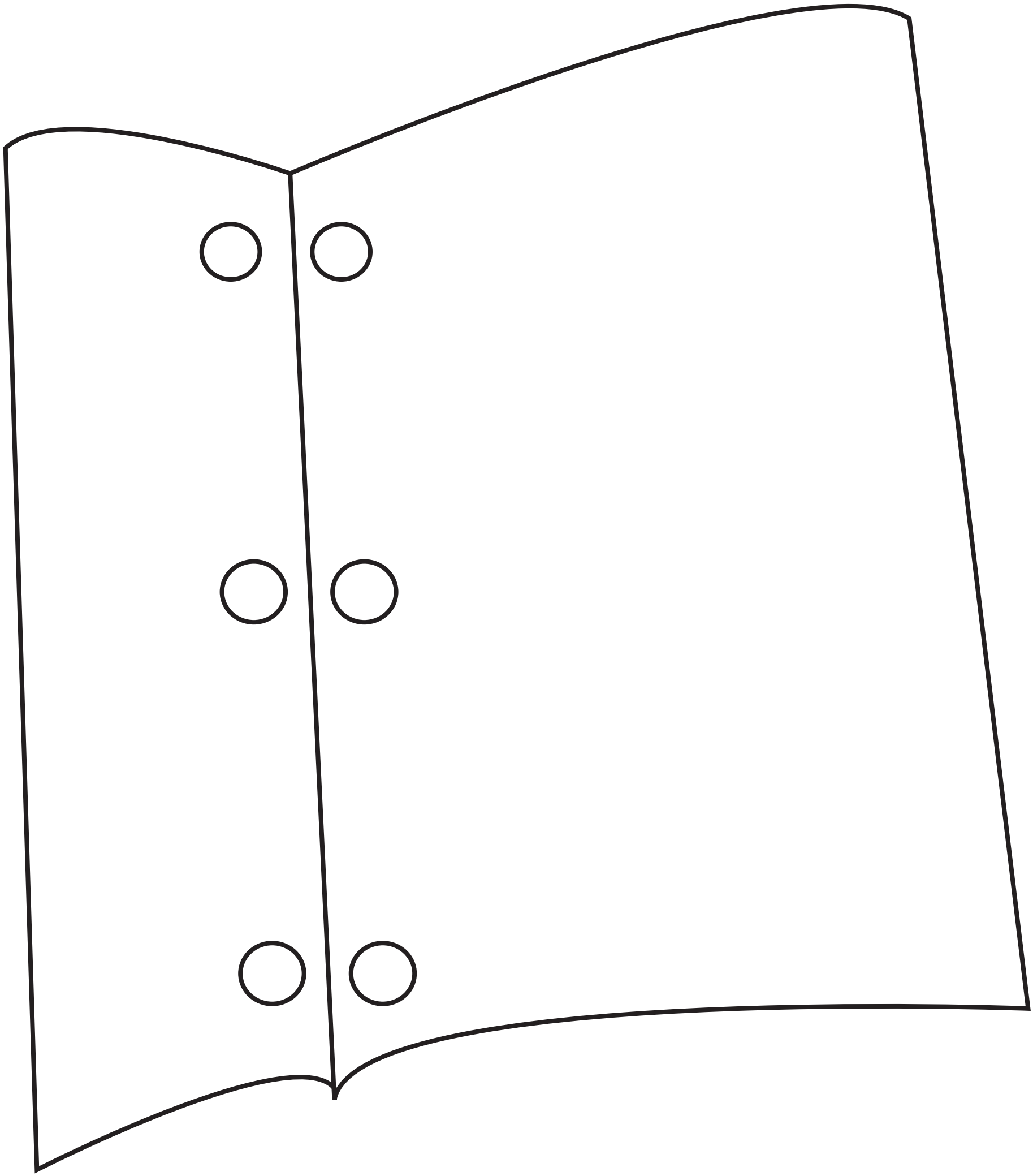

North America

Draw a map of your classroom.
Don't forget the door or your desk.

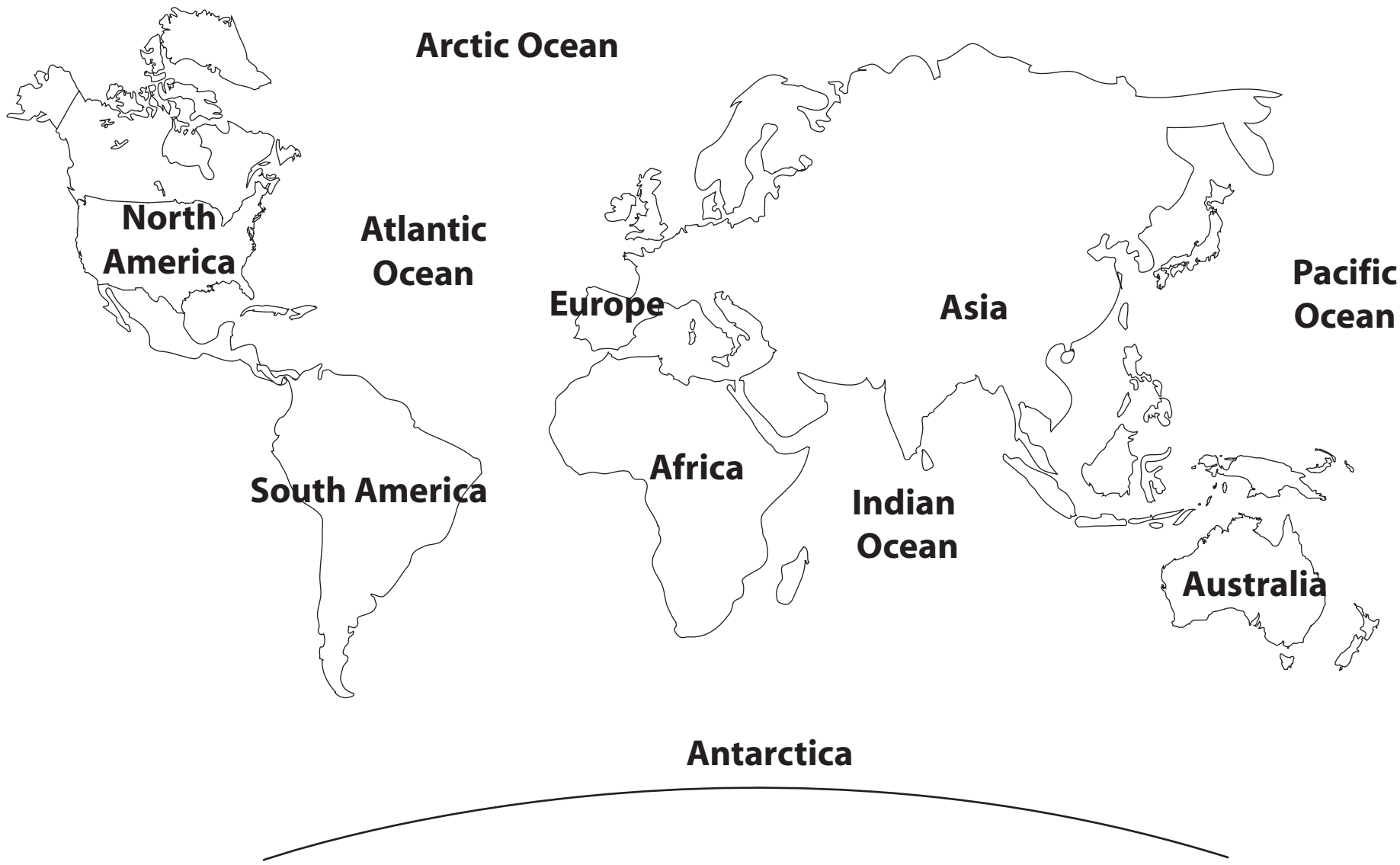

An ocean is a large body of salt water that covers most of the earth.

The continents are the largest dry land masses on the earth.

There are seven continents on our earth.

There are four oceans on our earth.

Globe

Read the information and trace the dotted words.

Oceans:

1. _____
2. _____
3. _____
4. _____

Continents:

1. _____
2. _____
3. _____
4. _____
5. _____
6. _____
7. _____

There are _____ continents on our earth.

There are _____ oceans on our earth.

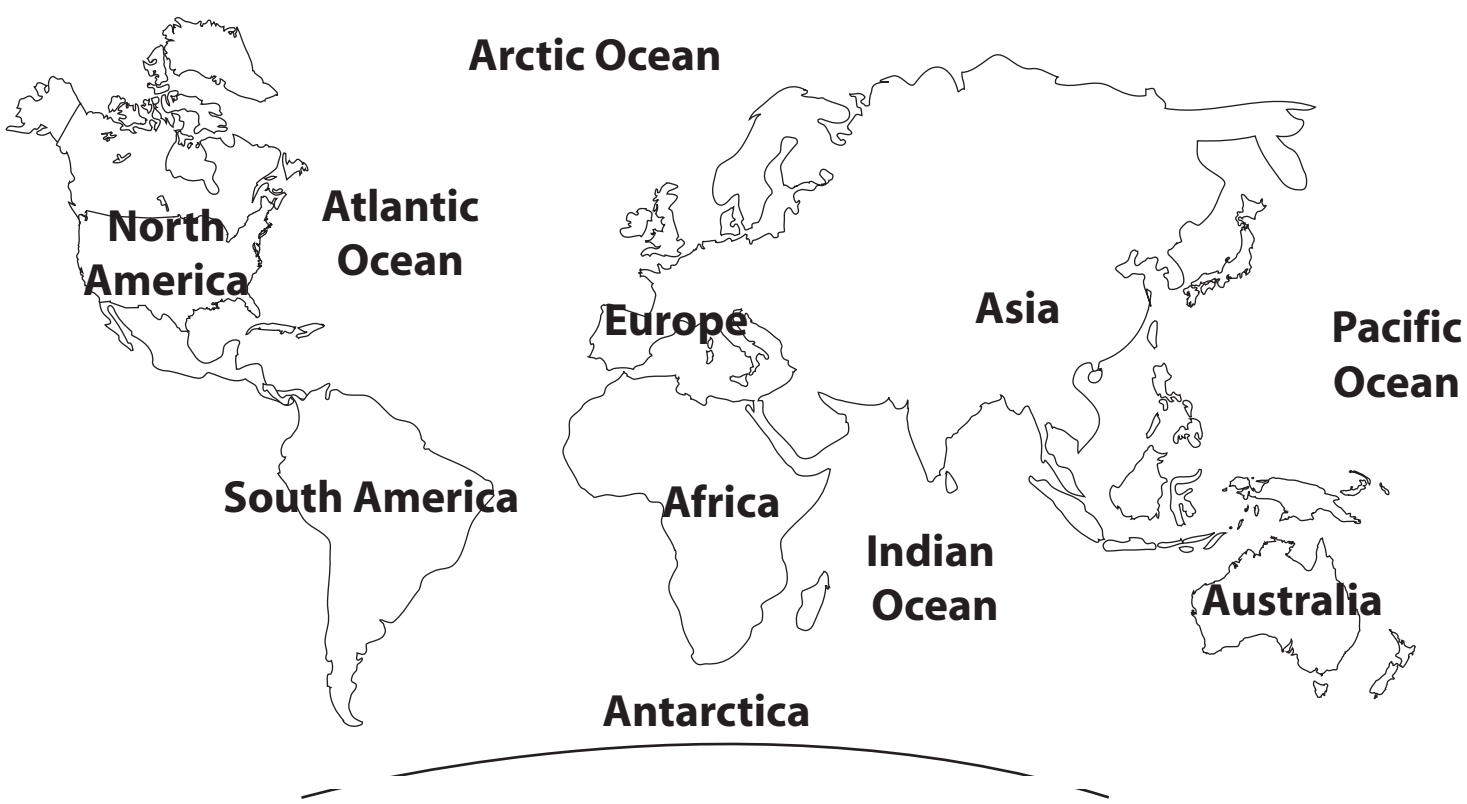

Globe

Use the map below to complete the list of oceans and continents.

Atlantic	**Asia**	**Indian**	**North America**
Europe	**Antarctica**	**Africa**	**South America**
Pacific	**Arctic**	**Australia**	

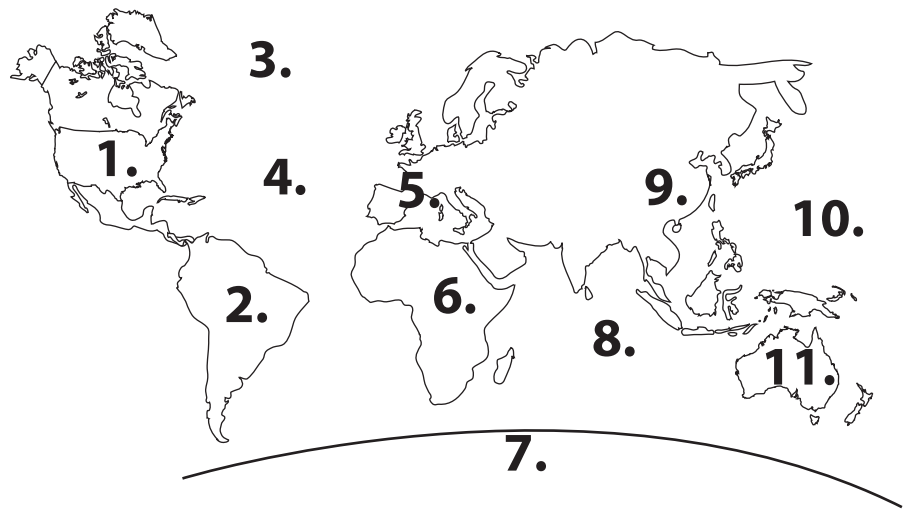

1. _____

2. _____

3. _____

4. _____

5. _____

6. _____

7. _____

8. _____

9. _____

10. _____

11. _____

Globe

Label each continent and ocean and write the correct answer in the blanks

Atlantic	**Asia**	**Indian**	**North America**
Europe	**Antarctica**	**Africa**	**South America**
Pacific	**Arctic**	**Australia**	

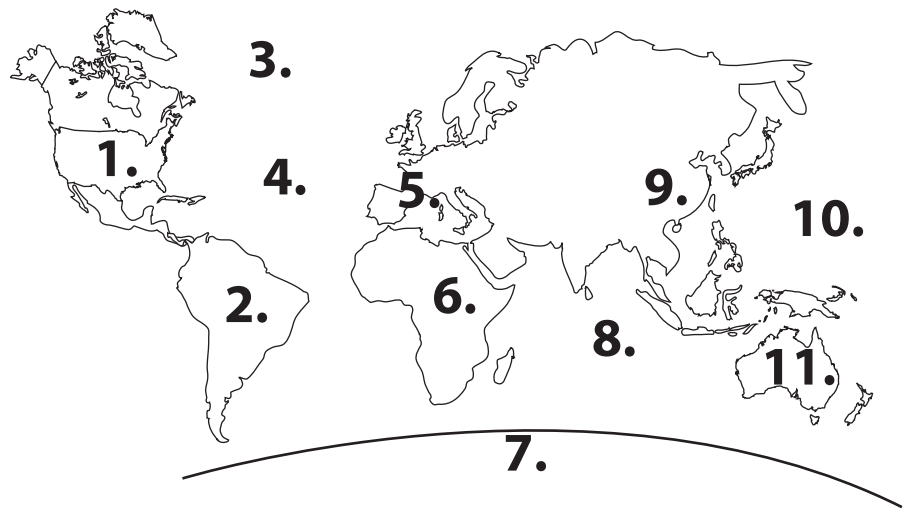

1. **North America**

2. **South America**

3. **Arctic**

4. **Atlantic**

5. **Europe**

6. **Africa**

7. **Antarctica**

8. **Indian**

9. **Asia**

10. **Pacific**

11. **Australia**

Globe *Answers*

Oceans:

1. _____
   t c i a t n a l
2. _____
   f c i p a i c
3. _____
   d n a n i i
4. _____
   c r a c i t

Continents:

1. _____
   u t h o s i e r a m a c
2. _____
   t c a r a n c i a t
3. _____
   h r t o n i c r e a a m
4. _____
   r p e o u e
5. _____
   l a i t a u s a r
6. _____
   c i r f a a
7. _____
   i a a s

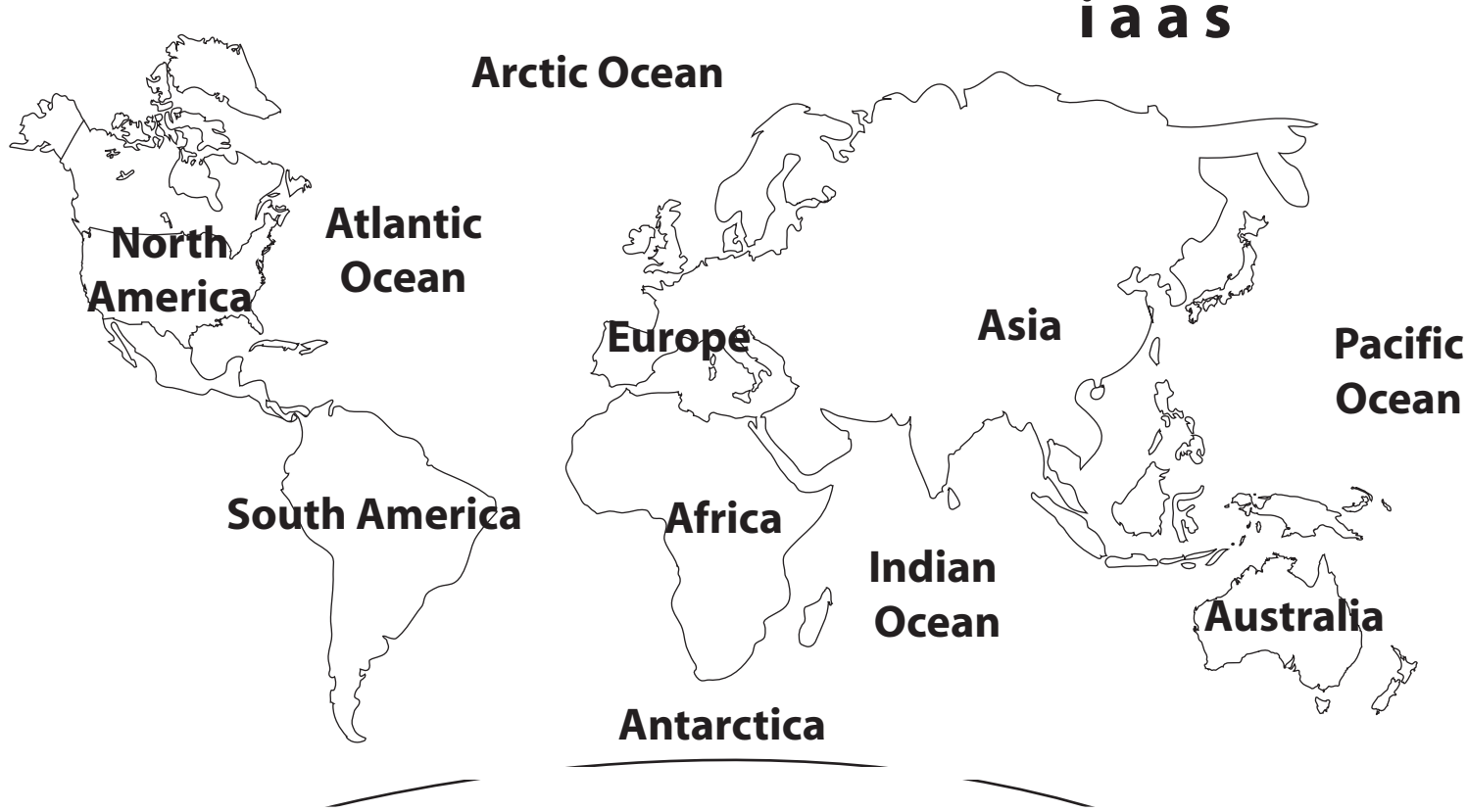

Globe

Unscramble the words.

Mountain

Gulf

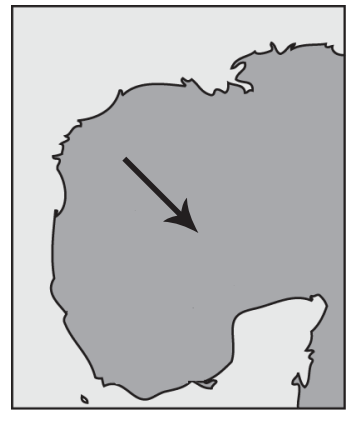

Valley

Island

Lake



North America

Compass Rose

Peninsula

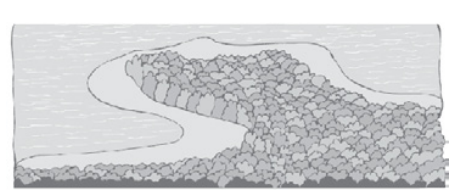

Review

Trace each word.

Valley

North America

Gulf

Peninsula

Plain

Mountain

Globe

River

Lake

Compass Rose

Island

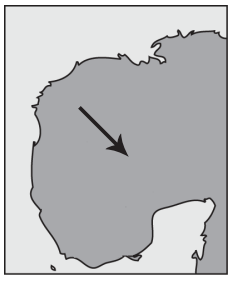

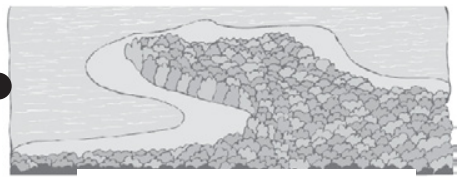



Review

Match each word to the correct picture.



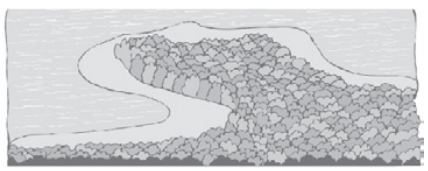

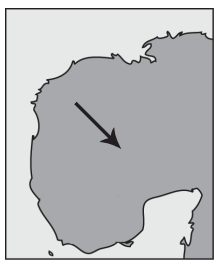

Word Bank

globe	**mountain**	**valley**
lake	**island**	
North America	**plain**	
river	**compass rose**	
gulf	**peninsula**	

Review

Use the Word Bank to fill in the blanks.

mountain

valley

compass rose



lake

river

globe

peninusla

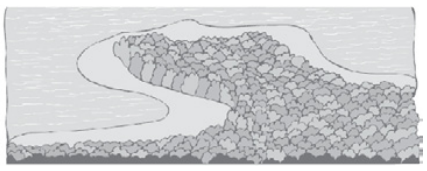

plain

North America

gulf

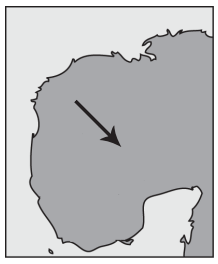

island

Word Bank

globe	mountain	valley
lake	island	
North America	plain	
river	compass rose	
gulf	peninsula	

river	**plain**	**island**	**North America**	**globe**	**mountain**
ocean	**hill**	**rocky**	**Antarctica**	**Pacific**	**land**
water	**lake**	**round**	**Australia**	**Indian**	**Europe**
Arctic	**Africa**	**gulf**	**Atlantic**	**South America**	**landform**

R O C K Y A L I A O A R T P
I J K R H G A P R U F T R E
V K G A P L N A C S R Y E N
E R O B C O D C T T I U K I
R O U N D B F I I O C P J N
U R L O I E O F C R A O L S
L A K E D I R I N D I A N U
O C E A N S M C O L F W A L
P H D I L L W O L A P E T A
G I F P A A A F P N L R L O
U L P F N N T L L E R T A I
L L E N D D E A A G N Y N C
F A X M R E R T I O M E T L
M O U N T A I N N R P A I T
N O R T H A M E R I C A C Y
T S O U T H A M E R I C A R
R A D X V U E U R O P E O E
A N T A R C T I C A X O R S
A I L A R T S U A U N B E K

Review

Complete the Word Search.



Review

Circle all the things that are wrong with this picture.

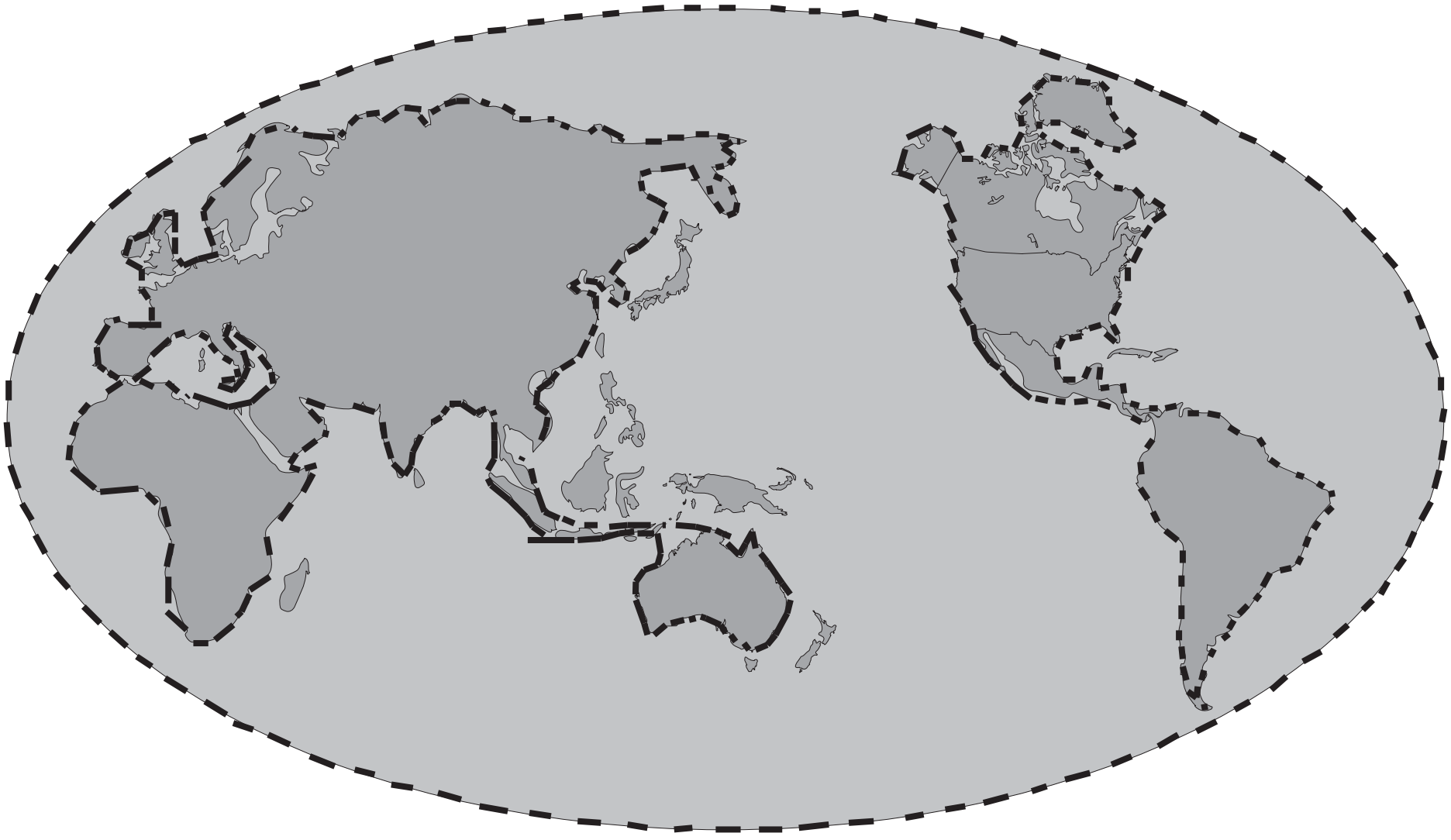

Review

Trace the world map and circle all the places you would like to go.

This page intentionally left blank for creative use.

This page intentionally left blank for creative use.